APPRAISAL OF REAL PROPERTY

LOCATED AT

308 Jamie Ct
Longview, TX 75605-8003
LT 6 BLK 8 RAMBLING CREEK #1

FOR

Ethan Kunz
808 Old Stage Rd
Pleasant Hill, MO 64080
ethan.douglas.kunz@gmail.com

OPINION OF VALUE

237,000

AS OF

03/03/2023

BY

Joseph Ryan Ellis
Professional Appraisers of Texas, Inc.
PO BOX 291
Judson, TX 75660
(903) 686-0023
ryan@weappraisetexas.com
www.weappraisetexas.com

Professional Appraisers of Texas, Inc.
PO BOX 291
Judson, TX 75660
(903) 686-0023
www.weappraisetexas.com

03/04/2023

Ethan Kunz
Ethan Kunz
808 Old Stage Rd
Pleasant Hill, MO 64080

Re:	Property:	308 Jamie Ct Longview, TX 75605-8003
	Owner:	Ethan Kunz
	File No.:	JAMIE308-Kunz

Opinion of Value: $	237,000
Effective Date:	03/03/2023

Mr. Kunz,

In accordance with your request, we have appraised the above referenced property. The report of that appraisal is attached.

The purpose of the appraisal is to develop an opinion of market value for the property described in this appraisal report, as improved, in unencumbered fee simple title of ownership.

This report is based on a physical analysis of the site and improvements, a locational analysis of the neighborhood and city, and an economic analysis of the market for properties such as the subject. The appraisal was developed and the report was prepared in accordance with the Uniform Standards of Professional Appraisal Practice.

The opinion of value reported above is as of the stated effective date and is contingent upon the certification and limiting conditions attached.

It has been a pleasure to assist you. Please do not hesitate to contact me or any of my staff if we can be of additional service to you.

Sincerely,

STATE OF TEXAS
JOSEPH R. ELLIS
TX 1350424 L
LICENSED
RESIDENTIAL
REAL ESTATE APPRAISER

Joseph Ryan Ellis
License or Certification #: 1350424
State: TX Expires: 07/31/2024
ryan@weappraisetexas.com

RESIDENTIAL APPRAISAL REPORT

File No.: 2303-7712 JAMIE308-Kunz

SUBJECT

Property Address: 308 Jamie Ct City: Longview State: TX Zip Code: 75605-8003

County: Gregg Legal Description: LT 6 BLK 8 RAMBLING CREEK #1

Assessor's Parcel #: 61937

Tax Year: 2022 R.E. Taxes: $ 2,799 Special Assessments: $ 0 Borrower (if applicable): Ethan Kunz

Current Owner of Record: Kunz Ethan Douglas & Kehia Occupant: ☐ Owner ☒ Tenant ☐ Vacant ☐ Manufactured Housing

Project Type: ☐ PUD ☐ Condominium ☐ Cooperative ☐ Other (describe) HOA: $ 0 ☐ per year ☐ per month

Market Area Name: Longview ISD Map Reference: 30980 Census Tract: 0002.02

ASSIGNMENT

The purpose of this appraisal is to develop an opinion of: ☒ Market Value (as defined), or ☐ other type of value (describe)

This report reflects the following value (if not Current, see comments): ☒ Current (the Inspection Date is the Effective Date) ☐ Retrospective ☐ Prospective

Approaches developed for this appraisal: ☒ Sales Comparison Approach ☐ Cost Approach ☐ Income Approach (See Reconciliation Comments and Scope of Work)

Property Rights Appraised: ☒ Fee Simple ☐ Leasehold ☐ Leased Fee ☐ Other (describe)

Intended Use: The intended use is to evaluate the property that is the subject of this appraisal in order to assist the client in estimating the market value of the property, subject to the stated scope of work, purpose of the appraisal, reporting requirements of this appraisal report form, and definition of market value.

Intended User(s) (by name or type): Ethan Kunz

Client: Ethan Kunz Address: 808 Old Stage Rd, Pleasant Hill, MO 64080

Appraiser: Joseph Ryan Ellis Address: PO BOX 291, Judson, TX 75660

MARKET AREA DESCRIPTION

				Predominant Occupancy	One-Unit Housing			Present Land Use		Change in Land Use
Location:	☐ Urban	☒ Suburban	☐ Rural		PRICE $(000)		AGE (yrs)	One-Unit	75 %	☒ Not Likely
Built up:	☒ Over 75%	☐ 25-75%	☐ Under 25%	☒ Owner				2-4 Unit	3 %	☐ Likely * ☐ In Process *
Growth rate:	☐ Rapid	☒ Stable	☐ Slow	☐ Tenant	122	Low	0	Multi-Unit	2 %	* To:
Property values:	☐ Increasing	☒ Stable	☐ Declining	☒ Vacant (0-5%)	1,695	High	83	Comm'l	10 %	
Demand/supply:	☐ Shortage	☒ In Balance	☐ Over Supply	☐ Vacant (>5%)	250	Pred	31	Vacant	10 %	
Marketing time:	☒ Under 3 Mos.	☒ 3-6 Mos.	☐ Over 6 Mos.							

Market Area Boundaries, Description, and Market Conditions (including support for the above characteristics and trends): Approx. bounds: 1844/1560/3634 North, Loop 281 South, 2879 East, McCann rd west. The subject is located within a residential area and is w/in Longview ISD. Longview has a population of approximately 82,000 people and is also the county seat of Gregg county. Interstate-20 provides access to Dallas TX to the west [~ 2 hr drive] and Shreveport LA to the east [~ 1 hr drive]. The subject property is located within an adequate distance from transportation channels, educational facilities, entertainment venues & grocery outlets. Prices & marketing and exposure times are overall currently stable [recent increases over the past couple of years, research currently shows stable]. There is a current shortage of inventory. Interest rates are on the rise. Financing is available in the area. FHA, Conventional, USDA, VA & "in-house" loans are common. One-Unit Trends are based on 'comparable' properties w/in the defined market area from the 1004MC Addendum. Price data is based on all MLS sales [anomalous properties excluded] w/in the past year w/in the market.

SITE DESCRIPTION

Dimensions: 105' x 138.9' Site Area: 14,584 sf

Zoning Classification: None Description: None

Zoning Compliance: ☐ Legal ☒ Legal nonconforming (grandfathered) ☐ Illegal ☐ No zoning

Are CC&Rs applicable? ☐ Yes ☐ No ☒ Unknown Have the documents been reviewed? ☐ Yes ☐ No Ground Rent (if applicable) $ /

Highest & Best Use as improved: ☒ Present use, or ☐ Other use (explain) [see attached Supplemental Addendum for more details on Highest & Best Use]

Actual Use as of Effective Date: Single Family Residential Use as appraised in this report: Single Family Residential

Summary of Highest & Best Use: See attached Supplemental Addendum.

Utilities	Public	Other	Provider/Description	Off-site Improvements	Type	Public	Private	Topography	Sloping
Electricity	☒	☐		Street	Asphalt	☒	☐	Size	14,584 sf
Gas	☐	☐	None	Curb/Gutter	Concrete	☒	☐	Shape	Irregular/See plat map
Water	☒	☐		Sidewalk	None	☐	☐	Drainage	Appears Adequate
Sanitary Sewer	☒	☐		Street Lights	Pole	☒	☐	View	Residential
Storm Sewer	☒	☐		Alley	None	☐	☐		

Other site elements: ☐ Inside Lot ☐ Corner Lot ☒ Cul de Sac ☐ Underground Utilities ☐ Other (describe)

FEMA Spec'l Flood Hazard Area ☐ Yes ☒ No FEMA Flood Zone X FEMA Map # 48183C0111F FEMA Map Date 9/3/2014

Site Comments: There are no apparent adverse easements, encroachments or other adverse site conditions noted. Appraiser is not aware of any environmental conditions that would negatively impact the subject property, however appraiser lacks expertise in the field of environmental detection. No preliminary title report was submitted for review. No soil report was submitted for review. A survey for the subject property was not provided and was not available in the normal course of business.

DESCRIPTION OF THE IMPROVEMENTS

General Description		Exterior Description		Foundation		Basement ☒ None		Heating	Yes
# of Units	1 ☐ Acc.Unit	Foundation	CCSlab	Slab	Yes	Area Sq. Ft.	0	Type	FWA
# of Stories	1	Exterior Walls	Brick	Crawl Space	No	% Finished	0	Fuel	Electric
Type	☒ Det. ☐ Att. ☐	Roof Surface	CmpShngl	Basement	No	Ceiling			
Design (Style)	Single Family	Gutters & Dwnspts.	Metal	Sump Pump	☐	Walls		Cooling	Yes
☒ Existing ☐ Proposed ☐ Und.Cons.		Window Type	Alum	Dampness	☐	Floor		Central	Yes
Actual Age (Yrs.)	43	Storm/Screens	Wire	Settlement	[hire specialist]	Outside Entry		Other	
Effective Age (Yrs.)	20			Infestation	[hire specialist]				

Interior Description		Appliances		Attic ☐ None		Amenities				Car Storage ☐ None		
Floors	Vn,VnPlk,Tl,WdLm,Crpt	Refrigerator	☒	Stairs	☐	Fireplace(s) #	1	Woodstove(s) #	0	Garage	# of cars	(2 Tot.)
Walls	Drywall,Panel	Range/Oven	☒	Drop Stair	☒	Patio	Cov			Attach.	2	
Trim/Finish	Wd	Disposal	☒	Scuttle	☐	Deck	None			Detach.	0	
Bath Floor	Tl	Dishwasher	☒	Doorway	☐	Porch	Cov			Blt.-In	0	
Bath Wainscot	Tl	Fan/Hood	☒	Floor	☐	Fence	Wood			Carport	0	
Doors	Hollow Core	Microwave	☒	Heated	☐	Pool	None			Driveway	2	
Appliance Note:	[p = personal]	Washer/Dryer	☒	Finished	☐	Other	Storage			Surface	Concrete	

Finished area above grade contains: 6 Rooms 3 Bedrooms 2.0 Bath(s) 1,735 Square Feet of Gross Living Area Above Grade

Additional features: The subject dwelling is 1-story detached single-family house with 1735 above-grade finished square feet and zero below-grade finished [or unfinished] square feet. The subject property also includes a covered porch, two covered patios, and an attached 2-car garage.

Describe the condition of the property (including physical, functional and external obsolescence): There is no major physical, functional, or external depreciation other than normal age/life depreciation. The subject dwelling consists of living, dining, kitchen, three bedrooms, and two bathrooms. The subject has had partial updates since 2020 which include the living room flooring and paint. At the time of inspection, the subject dwelling was occupied one of the tenants was present. The subject is in average condition and has been well maintained. See sketch and photos.

Copyright© 2007 by a la mode, inc. This form may be reproduced unmodified without written permission, however, a la mode, inc. must be acknowledged and credited.

RESIDENTIAL APPRAISAL REPORT

File No.: 2303-7712 JAMIE308-Kunz

TRANSFER HISTORY

My research ☐ did ☒ did not reveal any prior sales or transfers of the subject property for the three years prior to the effective date of this appraisal.

Data Source(s): LAAR-MLS, CAD

1st Prior Subject Sale/Transfer	
Date:	none w/in three[3] years
Price:	none w/in three[3] years
Source(s):	LAAR-MLS, CAD
2nd Prior Subject Sale/Transfer	
Date:	none w/in three[3] years
Price:	none w/in three[3] years
Source(s):	LAAR-MLS, CAD

Analysis of sale/transfer history and/or any current agreement of sale/listing: The appraiser researched any prior sales or transfers for the subject property w/in the three years prior to the effective date of appraisal. The subject has not sold/transferred within the three years prior to the effective date of this appraisal. The appraiser researched any prior sales or transfers for the comparable sales w/in the year prior to their sale dates. Sale 1 sold/transferred on 07/01/2022 to Longview Rental Properties LLC from Morris Justin P (which is the owner name for the most current sale on 11/22 per MLS). which is within the year prior to the current sale date. No listing was noted for this sale. Texas is a non-disclosure state. Sale 3 sold/transferred on 12/06/2021 to Grace Eric M from Graceco LLC, which is within the year prior to the current sale date. Sale 2, 4, 5, & 6 have not sold/transferred in the year prior to the current sale dates.

SALES COMPARISON APPROACH

SALES COMPARISON APPROACH TO VALUE (if developed) ☐ The Sales Comparison Approach was not developed for this appraisal.

FEATURE	SUBJECT	COMPARABLE SALE # 1		COMPARABLE SALE # 2		COMPARABLE SALE # 3	
Address	308 Jamie Ct Longview, TX 75605-8003	306 Cindi Ct Longview, TX 75605		205 Jessica Ln Longview, TX 75605		412 Rebecca Cir Longview, TX 75605	
Proximity to Subject		0.11 miles E		0.20 miles SE		0.26 miles E	
Sale Price	$		$ 228,000		$ 236,500		$ 237,000
Sale Price/GLA	$ /sq.ft.	$ 145.41 /sq.ft.		$ 149.68 /sq.ft.		$ 137.95 /sq.ft.	
Data Source(s)		LAAR-MLS#20224999 DOM		LAAR-MLS#20225339 DOM		LAAR-MLS#20225822 DOM	
Verification Source(s)		CAD, MLS		CAD, MLS		CAD, MLS	
VALUE ADJUSTMENTS	DESCRIPTION	DESCRIPTION	+(-) $ Adjust.	DESCRIPTION	+(-) $ Adjust.	DESCRIPTION	+(-) $ Adjust.
Sales or Financing Concessions		ArmLth FHA;5000	-5,000	ArmLth FHA;0		ArmLth Cash;0	
Date of Sale/Time		s11/22;c10/22		s10/22;c09/22		s10/22;c09/22	
Rights Appraised	Fee Simple	Fee Simple		Fee Simple		Fee Simple	
Location	Longview ISD	Longview ISD		Longview ISD		Longview ISD	
Site	14,584 sf	14,549 sf	0	21,605 sf		10,890 sf	0
View	Residential	Residential		Residential		Residential	
Design (Style)	Single Family	Single Family		Single Family		Single Family	
Quality of Construction	Avg	Avg		Avg		Avg	
Age	43	40	0	40		37	0
Condition	Avg	Avg		Avg		Avg	
Above Grade Room Count (Total / Bdrms / Baths)	6 / 3 / 2.0	6 / 3 / 2.0		6 / 3 / 2.0		6 / 3 / 2.0	
Gross Living Area	1,735 sq.ft.	1,568 sq.ft.	+11,690	1,580 sq.ft.	+10,850	1,718 sq.ft.	
Basement & Finished Rooms Below Grade	0sf	0sf		0sf		0sf	
Functional Utility	Avg	Avg		Avg		Avg	
Heating/Cooling	Central H/A	Central H/A		Central H/A		Central H/A	
Energy Efficient Items	Insulation	Insulation		Insulation		Insulation	
Garage/Carport	2Garage2Drive	2Garage2Drive		2Garage2Drive		2Garage2Drive	
Porch/Patio/Deck	Porch/Patios	Porch/Patio	0	Porch/Patio	0	Porch/Patio	0
Fireplace(s)	FP	FP		FP		FP	
Other Amenities	Strg	None	0	Strg	-2,000	None	0
Other Adjustments	None	None		None		None	
Net Adjustment (Total)		☒ + ☐ -	$ 6,690	☒ + ☐ -	$ 8,850	☐ + ☐ -	$
Adjusted Sale Price of Comparables			$ 234,690		$ 245,350		$ 237,000

Summary of Sales Comparison Approach: See Supplemental Addendum.

Indicated Value by Sales Comparison Approach $ 237,000

Copyright© 2007 by a la mode, inc. This form may be reproduced unmodified without written permission, however, a la mode, inc. must be acknowledged and credited.

ADDITIONAL COMPARABLE SALES

File No.: 2303-7712 JAMIE308-Kunz

SALES COMPARISON APPROACH

FEATURE	SUBJECT	COMPARABLE SALE # 4		COMPARABLE SALE # 5		COMPARABLE SALE # 6	
Address	308 Jamie Ct Longview, TX 75605-8003	210 S Joan Ln Longview, TX 75605		306 Janet Kay Dr Longview, TX 75605		207 Rebecca Cir Longview, TX 75605	
Proximity to Subject		0.19 miles SE		0.17 miles E		0.21 miles SE	
Sale Price	$		$ 215,000		$ 246,900		$ 220,000
Sale Price/GLA	$ /sq.ft.	$ 136.33 /sq.ft.		$ 141.25 /sq.ft.		$ 141.03 /sq.ft.	
Data Source(s)		LAAR-MLS#20224869 DOM		LAAR-MLS#20222969 DOM		LAAR-MLS#20221332 DOM	
Verification Source(s)		CAD, MLS		CAD, MLS		MLS, CAD,	
VALUE ADJUSTMENTS	DESCRIPTION	DESCRIPTION	+(-) $ Adjust.	DESCRIPTION	+(-) $ Adjust.	DESCRIPTION	+(-) $ Adjust.
Sales or Financing Concessions		ArmLth Conv;0		ArmLth Other;0		ArmLth Cash;0	
Date of Sale/Time		s09/22;c08/22		s06/22;c05/22		s04/22;c03/22	
Rights Appraised	Fee Simple	Fee Simple		Fee Simple		Fee Simple	
Location	Longview ISD	Longview ISD		Longview ISD		Longview ISD	
Site	14,584 sf	11,695 sf		12,212 sf	0	11,674 sf	0
View	Residential	Residential		Residential		Residential	
Design (Style)	Single Family	Single Family		Single Family		Single Family	
Quality of Construction	Avg	Avg		Avg		Avg	
Age	43	40	0	40		39	
Condition	Avg	Avg		Avg		Avg	
Above Grade Room Count (Total / Bdrms / Baths)	6 / 3 / 2.0	6 / 3 / 2.0		6 / 3 / 2.0		6 / 3 / 2.0	
Gross Living Area	1,735 sq.ft.	1,577 sq.ft.	+11,060	1,748 sq.ft.		1,560 sq.ft.	+12,250
Basement & Finished Rooms Below Grade	0sf	0sf		0sf		0sf	
Functional Utility	Avg	Avg		Avg		Avg	
Heating/Cooling	Central H/A	Central H/A		Central H/A		Central H/A	
Energy Efficient Items	Insulation	Insulation		Insulation		Insulation	
Garage/Carport	2Garage2Drive	2Garage2Drive		2Garage2Drive		2Garage2Drive	
Porch/Patio/Deck	Porch/Patios	Porch/Patio	0	Porch/Patios		Porch/Patio	0
Fireplace(s)	FP	FP		FP		FP	
Other Amenities	Strg	None	0	Strg	-2,000	Strg	-2,000
Other Adjustments	None	None		None		None	
Net Adjustment (Total)		☒ + ☐ -	$ 11,060	☐ + ☒ -	$ -2,000	☒ + ☐ -	$ 10,250
Adjusted Sale Price of Comparables			$ 226,060		$ 244,900		$ 230,250

Summary of Sales Comparison Approach

See Supplemental Addendum.

Copyright© 2007 by a la mode, inc. This form may be reproduced unmodified without written permission, however, a la mode, inc. must be acknowledged and credited.

RESIDENTIAL APPRAISAL REPORT

File No.: 2303-7712 JAMIE308-Kunz

COST APPROACH

COST APPROACH TO VALUE (if developed) ☒ The Cost Approach was not developed for this appraisal.

Provide adequate information for replication of the following cost figures and calculations.

Support for the opinion of site value (summary of comparable land sales or other methods for estimating site value): Appraiser searched MLS for recent land sales in the subjects area. Land sale research is retained in my workfile. An allocation analysis was also performed on the subject site. Allocation notes and sales data are retained in the appraisers workfile.

ESTIMATED ☐ REPRODUCTION OR ☐ REPLACEMENT COST NEW

Source of cost data:

Quality rating from cost service: Effective date of cost data:

Comments on Cost Approach (gross living area calculations, depreciation, etc.):

Cost Approach - Not Developed
The Cost Approach is applicable when improvements are new, near new, or are of an unusual construction method. This approach to value is appropriate when land or building sites are available to a potential purchaser to make construction of improvements similar to the subject, a viable alternative to purchasing the subject. The cost approach is often subjective due to estimating depreciation. Given the age/year built of the improvements and since there is sufficient sale data in the subject's area, I have determined that the Cost Approach is not applicable to the assignment and not necessary for credible assignment results.

Estimated Remaining Economic Life (if required): 50 Years

OPINION OF SITE VALUE			=$
DWELLING	Sq.Ft. @ $		=$
	Sq.Ft. @ $		=$
	Sq.Ft. @ $		=$
	Sq.Ft. @ $		=$
	Sq.Ft. @ $		=$
			=$
Garage/Carport	Sq.Ft. @ $		=$
Total Estimate of Cost-New			=$
Less Physical	Functional	External	
Depreciation			=$( )
Depreciated Cost of Improvements			=$
"As-is" Value of Site Improvements			=$
			=$
			=$
INDICATED VALUE BY COST APPROACH			=$

INCOME APPROACH

INCOME APPROACH TO VALUE (if developed) ☒ The Income Approach was not developed for this appraisal.

Estimated Monthly Market Rent $ X Gross Rent Multiplier = $ Indicated Value by Income Approach

Summary of Income Approach (including support for market rent and GRM): Income Approach - Not Developed: There is sufficient sale data in the subject's market and the income approach is not necessary for credible assignment results.

PUD

PROJECT INFORMATION FOR PUDs (if applicable) ☐ The Subject is part of a Planned Unit Development.

Legal Name of Project:

Describe common elements and recreational facilities:

RECONCILIATION

Indicated Value by: Sales Comparison Approach $ 237,000 Cost Approach (if developed) $ Income Approach (if developed) $

Final Reconciliation The sales comparison approach best reflects the market and is given all weight in the opinion of value. There is sufficient comparable sale data in the subject's market. The cost approach and income approach are not necessary for credible assignment results.

This appraisal is made ☒ "as is", ☐ subject to completion per plans and specifications on the basis of a Hypothetical Condition that the improvements have been completed, ☐ subject to the following repairs or alterations on the basis of a Hypothetical Condition that the repairs or alterations have been completed, ☐ subject to the following required inspection based on the Extraordinary Assumption that the condition or deficiency does not require alteration or repair: The subject is appraised "as is".

☐ This report is also subject to other Hypothetical Conditions and/or Extraordinary Assumptions as specified in the attached addenda.

Based on the degree of inspection of the subject property, as indicated below, defined Scope of Work, Statement of Assumptions and Limiting Conditions, and Appraiser's Certifications, my (our) Opinion of the Market Value (or other specified value type), as defined herein, of the real property that is the subject of this report is: $ 237,000 , as of: 03/03/2023 , which is the effective date of this appraisal. If indicated above, this Opinion of Value is subject to Hypothetical Conditions and/or Extraordinary Assumptions included in this report. See attached addenda.

ATTACHMENTS

A true and complete copy of this report contains 29 pages, including exhibits which are considered an integral part of the report. This appraisal report may not be properly understood without reference to the information contained in the complete report.

Attached Exhibits:

☒ Scope of Work	☒ Limiting Cond./Certifications	☒ Supplemental Addendum	☒ Photograph Addenda	☒ Sketch Addendum
☒ Map Addenda	☒ Additional Sales	☒ Invoice	☒ Cover Page	☒ Environmental Addendum
☐ Hypothetical Conditions	☐ Extraordinary Assumptions	☒ Plat & Aerial Maps	☒ Letter of Transmittal	☒ USPAP Addendum

SIGNATURES

Client Contact: Ethan Kunz Client Name: Ethan Kunz

E-Mail: ethan.douglas.kunz@gmail.com Address: 808 Old Stage Rd, Pleasant Hill, MO 64080

APPRAISER

STATE OF TEXAS
JOSEPH R. ELLIS
TX 1350424 L
LICENSED RESIDENTIAL REAL ESTATE APPRAISER

Appraiser Name: Joseph Ryan Ellis
Company: Professional Appraisers of Texas, Inc.
Phone: (903) 686-0023 Fax:
E-Mail: ryan@weappraisetexas.com
Date of Report (Signature): 03/04/2023
License or Certification #: 1350424 State: TX
Designation:
Expiration Date of License or Certification: 07/31/2024
Inspection of Subject: ☒ Interior & Exterior ☐ Exterior Only ☐ None
Date of Inspection: 03/03/2023

SUPERVISORY APPRAISER (if required) or CO-APPRAISER (if applicable)

Supervisory or Co-Appraiser Name:
Company:
Phone: Fax:
E-Mail:
Date of Report (Signature):
License or Certification #: State:
Designation:
Expiration Date of License or Certification:
Inspection of Subject: ☐ Interior & Exterior ☐ Exterior Only ☐ None
Date of Inspection:

Copyright© 2007 by a la mode, inc. This form may be reproduced unmodified without written permission, however, a la mode, inc. must be acknowledged and credited.

Assumptions, Limiting Conditions & Scope of Work

2303-7712
File No.: JAMIE308-Kunz

Property Address:	308 Jamie Ct	City: Longview	State: TX	Zip Code: 75605-8003	
Client:	Ethan Kunz	Address:	808 Old Stage Rd, Pleasant Hill, MO 64080		
Appraiser:	Joseph Ryan Ellis	Address:	PO BOX 291, Judson, TX 75660		

STATEMENT OF ASSUMPTIONS & LIMITING CONDITIONS

— The appraiser will not be responsible for matters of a legal nature that affect either the property being appraised or the title to it. The appraiser assumes that the title is good and marketable and, therefore, will not render any opinions about the title. The property is appraised on the basis of it being under responsible ownership.

— The appraiser may have provided a sketch in the appraisal report to show approximate dimensions of the improvements, and any such sketch is included only to assist the reader of the report in visualizing the property and understanding the appraiser's determination of its size. Unless otherwise indicated, a Land Survey was not performed.

— If so indicated, the appraiser has examined the available flood maps that are provided by the Federal Emergency Management Agency (or other data sources) and has noted in the appraisal report whether the subject site is located in an identified Special Flood Hazard Area. Because the appraiser is not a surveyor, he or she makes no guarantees, express or implied, regarding this determination.

— The appraiser will not give testimony or appear in court because he or she made an appraisal of the property in question, unless specific arrangements to do so have been made beforehand.

— If the cost approach is included in this appraisal, the appraiser has estimated the value of the land in the cost approach at its highest and best use, and the improvements at their contributory value. These separate valuations of the land and improvements must not be used in conjunction with any other appraisal and are invalid if they are so used. Unless otherwise specifically indicated, the cost approach value is not an insurance value, and should not be used as such.

— The appraiser has noted in the appraisal report any adverse conditions (including, but not limited to, needed repairs, depreciation, the presence of hazardous wastes, toxic substances, etc.) observed during the inspection of the subject property, or that he or she became aware of during the normal research involved in performing the appraisal. Unless otherwise stated in the appraisal report, the appraiser has no knowledge of any hidden or unapparent conditions of the property, or adverse environmental conditions (including, but not limited to, the presence of hazardous wastes, toxic substances, etc.) that would make the property more or less valuable, and has assumed that there are no such conditions and makes no guarantees or warranties, express or implied, regarding the condition of the property. The appraiser will not be responsible for any such conditions that do exist or for any engineering or testing that might be required to discover whether such conditions exist. Because the appraiser is not an expert in the field of environmental hazards, the appraisal report must not be considered as an environmental assessment of the property.

— The appraiser obtained the information, estimates, and opinions that were expressed in the appraisal report from sources that he or she considers to be reliable and believes them to be true and correct. The appraiser does not assume responsibility for the accuracy of such items that were furnished by other parties.

— The appraiser will not disclose the contents of the appraisal report except as provided for in the Uniform Standards of Professional Appraisal Practice, and any applicable federal, state or local laws.

— If this appraisal is indicated as subject to satisfactory completion, repairs, or alterations, the appraiser has based his or her appraisal report and valuation conclusion on the assumption that completion of the improvements will be performed in a workmanlike manner.

— An appraiser's client is the party (or parties) who engage an appraiser in a specific assignment. Any other party acquiring this report from the client does not become a party to the appraiser-client relationship. Any persons receiving this appraisal report because of disclosure requirements applicable to the appraiser's client do not become intended users of this report unless specifically identified by the client at the time of the assignment.

— The appraiser's written consent and approval must be obtained before this appraisal report can be conveyed by anyone to the public, through advertising, public relations, news, sales, or by means of any other media, or by its inclusion in a private or public database.

— An appraisal of real property is not a 'home inspection' and should not be construed as such. As part of the valuation process, the appraiser performs a non-invasive visual inventory that is not intended to reveal defects or detrimental conditions that are not readily apparent. The presence of such conditions or defects could adversely affect the appraiser's opinion of value. Clients with concerns about such potential negative factors are encouraged to engage the appropriate type of expert to investigate.

Additional Comments (Scope of Work, Extraordinary Assumptions, Hypothetical Conditions, etc.):
See attached addendum for additional Scope of Work explanation.

Note: The Scope of Work is the type and extent of research and analyses performed in an appraisal assignment that is required to produce credible assignment results, given the nature of the appraisal problem, the specific requirements of the intended user(s) and the intended use of the appraisal report. Reliance upon this report, regardless of how acquired, by any party or for any use, other than those specified in this report by the Appraiser, is prohibited. The Opinion of Value that is the conclusion of this report is credible only within the context of the Scope of Work, Effective Date, the Date of Report, the Intended User(s), the Intended Use, the stated Assumptions and Limiting Conditions, any Hypothetical Conditions and/or Extraordinary Assumptions, and the Type of Value, as defined herein. The appraiser, appraisal firm, and related parties assume no obligation, liability, or accountability, and will not be responsible for any unauthorized use of this report or its conclusions.

Copyright© 2007 by a la mode, inc. This form may be reproduced unmodified without written permission, however, a la mode, inc. must be acknowledged and credited.

2303-7712

File No.: JAMIE308-Kunz

Certifications

Property Address: 308 Jamie Ct City: Longview State: TX Zip Code: 75605-8003

Client: Ethan Kunz Address: 808 Old Stage Rd, Pleasant Hill, MO 64080

Appraiser: Joseph Ryan Ellis Address: PO BOX 291, Judson, TX 75660

APPRAISER'S CERTIFICATION

I certify that, to the best of my knowledge and belief:

— The statements of fact contained in this report are true and correct.

— The credibility of this report, for the stated use by the stated user(s), of the reported analyses, opinions, and conclusions are limited only by the reported assumptions and limiting conditions, and are my personal, impartial, and unbiased professional analyses, opinions, and conclusions.

— I have no present or prospective interest in the property that is the subject of this report and no personal interest with respect to the parties involved.

— Unless otherwise indicated, I have performed no services, as an appraiser or in any other capacity, regarding the property that is the subject of this report within the three-year period immediately preceding acceptance of this assignment.

— I have no bias with respect to the property that is the subject of this report or to the parties involved with this assignment.

— My engagement in this assignment was not contingent upon developing or reporting predetermined results.

— My compensation for completing this assignment is not contingent upon the development or reporting of a predetermined value or direction in value that favors the cause of the client, the amount of the value opinion, the attainment of a stipulated result, or the occurrence of a subsequent event directly related to the intended use of this appraisal.

— My analyses, opinions, and conclusions were developed, and this report has been prepared, in conformity with the Uniform Standards of Professional Appraisal Practice that were in effect at the time this report was prepared.

— I did not base, either partially or completely, my analysis and/or the opinion of value in the appraisal report on the race, color, religion, sex, handicap, familial status, or national origin of either the prospective owners or occupants of the subject property, or of the present owners or occupants of the properties in the vicinity of the subject property.

— Unless otherwise indicated, I have made a personal inspection of the property that is the subject of this report.

— Unless otherwise noted, no one provided significant real property appraisal assistance to the person(s) signing this certification.

DEFINITION OF MARKET VALUE *:

Market value means the most probable price which a property should bring in a competitive and open market under all conditions requisite to a fair sale, the buyer and seller each acting prudently and knowledgeably, and assuming the price is not affected by undue stimulus. Implicit in this definition is the consummation of a sale as of a specified date and the passing of title from seller to buyer under conditions whereby:

1. Buyer and seller are typically motivated;
2. Both parties are well informed or well advised and acting in what they consider their own best interests;
3. A reasonable time is allowed for exposure in the open market;
4. Payment is made in terms of cash in U.S. dollars or in terms of financial arrangements comparable thereto; and
5. The price represents the normal consideration for the property sold unaffected by special or creative financing or sales concessions granted by anyone associated with the sale.

* This definition is from regulations published by federal regulatory agencies pursuant to Title XI of the Financial Institutions Reform, Recovery, and Enforcement Act (FIRREA) of 1989 between July 5, 1990, and August 24, 1990, by the Federal Reserve System (FRS), National Credit Union Administration (NCUA), Federal Deposit Insurance Corporation (FDIC), the Office of Thrift Supervision (OTS), and the Office of Comptroller of the Currency (OCC). This definition is also referenced in regulations jointly published by the OCC, OTS, FRS, and FDIC on June 7, 1994, and in the Interagency Appraisal and Evaluation Guidelines, dated October 27, 1994.

SIGNATURES

Client Contact: Ethan Kunz Client Name: Ethan Kunz

E-Mail: ethan.douglas.kunz@gmail.com Address: 808 Old Stage Rd, Pleasant Hill, MO 64080

APPRAISER

STATE OF TEXAS
JOSEPH R. ELLIS
TX 1350424 L
LICENSED RESIDENTIAL REAL ESTATE APPRAISER

Appraiser Name: Joseph Ryan Ellis

Company: Professional Appraisers of Texas, Inc.

Phone: (903) 686-0023 Fax:

E-Mail: ryan@weappraisetexas.com

Date Report Signed: 03/04/2023

License or Certification #: 1350424 State: TX

Designation:

Expiration Date of License or Certification: 07/31/2024

Inspection of Subject: ☒ Interior & Exterior ☐ Exterior Only ☐ None

Date of Inspection: 03/03/2023

SUPERVISORY APPRAISER (if required) or CO-APPRAISER (if applicable)

Supervisory or Co-Appraiser Name:

Company:

Phone: Fax:

E-Mail:

Date Report Signed:

License or Certification #: State:

Designation:

Expiration Date of License or Certification:

Inspection of Subject: ☐ Interior & Exterior ☐ Exterior Only ☐ None

Date of Inspection:

Copyright© 2007 by a la mode, inc. This form may be reproduced unmodified without written permission, however, a la mode, inc. must be acknowledged and credited.

Client	Ethan Kunz					File No.	JAMIE308-Kunz
Property Address	308 Jamie Ct						
City	Longview	County	Gregg	State	TX	Zip Code	75605-8003
Appraiser	Joseph Ryan Ellis						

APPRAISAL AND REPORT IDENTIFICATION

This Report is one of the following types:

☒ **Appraisal Report** (A written report prepared under Standards Rule 2-2(a), pursuant to the Scope of Work, as disclosed elsewhere in this report.)

☐ **Restricted Appraisal Report** (A written report prepared under Standards Rule 2-2(b), pursuant to the Scope of Work, as disclosed elsewhere in this report, restricted to the stated intended use by the specified client or intended user.)

Comments on Standards Rule 2-3

- The statements of fact contained in this report are true and correct.
- The reported analyses, opinions, and conclusions are limited only by the reported assumptions and limiting conditions and are my personal, impartial, and unbiased professional analyses, opinions, and conclusions.
- Unless otherwise indicated, I have no present or prospective interest in the property that is the subject of this report and no personal interest with respect to the parties involved.
- Unless otherwise indicated, I have performed no services, as an appraiser or in any other capacity, regarding the property that is the subject of this report within the three-year period immediately preceding acceptance of this assignment.
- I have no bias with respect to the property that is the subject of this report or the parties involved with this assignment.
- My engagement in this assignment was not contingent upon developing or reporting predetermined results.
- My compensation for completing this assignment is not contingent upon the development or reporting of a predetermined value or direction in value that favors the cause of the client, the amount of the value opinion, the attainment of a stipulated result, or the occurrence of a subsequent event directly related to the intended use of this appraisal.
- My analyses, opinions, and conclusions were developed, and this report has been prepared, in conformity with the Uniform Standards of Professional Appraisal Practice that were in effect at the time this report was prepared.
- Unless otherwise indicated, I have made a personal inspection of the property that is the subject of this report.
- Unless otherwise noted, no one provided significant real property appraisal assistance to the person signing this certification.

Reasonable Exposure Time

(USPAP defines Exposure Time as the estimated length of time that the property interest being appraised would have been offered on the market prior to the hypothetical consummation of a sale at market value on the effective date of the appraisal.)

My Opinion of Reasonable Exposure Time for the subject property at the market value stated in this report is: 1-180 days

Exposure Time: estimated length of time that the property interest being appraised would have been offered on the market prior to the hypothetical consummation of a sale at market value on the effective date of the appraisal.

Comment: Exposure time is a retrospective opinion based on an analysis of past events assuming a competitive and open market.

Comments on Appraisal and Report Identification

Note any USPAP-related issues requiring disclosure and any state mandated requirements:

-The intended user of this appraisal report is the lender/client. The intended use is to evaluate the property that is the subject of this appraisal for a market value opinion, subject to the stated scope of work, purpose of the appraisal, reporting requirements of this appraisal report form, and definition of market value. No additional intended users are identified by the appraiser.

-The purpose of this report is to provide the appraiser's opinion of the subject's market value as of the effective date of appraisal.

-The Definition of Market Value, Statement of Assumptions & Limiting Conditions and the Appraisers Certification are integral to understanding this report.

-The scope of the appraisal is defined by the appraiser and intended user, and not for or by any parties that may choose to rely on this report. The scope of the appraisal relates to the level of investigation and research performed by the appraiser in developing the work file and assuring that the value conclusion is credible. See Scope of Work on the addendum page.

-Marketing and exposure time estimates are based upon a listing price at or near market price.

APPRAISER:	SUPERVISORY or CO-APPRAISER (if applicable):
Signature:	Signature:
Name: Joseph Ryan Ellis	Name:
State Certification #:	State Certification #:
or State License #: 1350424	or State License #:
State: TX Expiration Date of Certification or License: 07/31/2024	State: Expiration Date of Certification or License:
Date of Signature and Report: 03/04/2023	Date of Signature:
Effective Date of Appraisal: 03/03/2023	
Inspection of Subject: ☐ None ☒ Interior and Exterior ☐ Exterior-Only	Inspection of Subject: ☐ None ☐ Interior and Exterior ☐ Exterior-Only
Date of Inspection (if applicable): 03/03/2023	Date of Inspection (if applicable):

STATE OF TEXAS
JOSEPH R. ELLIS
TX 1350424 L
LICENSED
RESIDENTIAL
REAL ESTATE APPRAISER

Supplemental Addendum

File No. JAMIE308-Kunz

Client	Ethan Kunz						
Property Address	308 Jamie Ct						
City	Longview	County	Gregg	State	TX	Zip Code	75605-8003
Appraiser	Joseph Ryan Ellis						

No Zoning

There is no zoning for the subject as it is outside city limits. It is presumed that the subject could be rebuilt if destroyed. Note: I was unable to locate any applicable deed restrictions for the subject, however this does not mean that none exist. I recommend the client/report user confirm with the title company as to whether or not there are deed restrictions applicable to the subject addition.

Square Footage-Method for Calculating: ANSI® Z765-2021

The measuring methodology and criteria used in this report meets the Square Footage-Method for Calculating: ANSI® Z765-2021. Finished square footage calculations for this house were made based on plan dimensions only and may vary from the finished square footage of the house as built. Note: Measurements/sketch are an accurate representation of the improvements. Measurements are not intended for architectural use and are typically not as precise as an architect or draftsman.

CO2 & Smoke Detectors

As of April 1, 2018, any structure that is used for residential purposes and uses gas or fuel-burning appliances and/or has an attached garage that connects to the structure, are required to install and maintain Carbon Monoxide (CO) Alarms.
The client and report reader must understand that smoke detectors and carbon monoxide detectors are often confused with one another due to the units having a similar appearance. Some detector units are for smoke only, carbon monoxide only, or both smoke and carbon monoxide. If the subject property has smoke and/or carbon monoxide detectors, I have included a photo of at least one of the of the detector unit in the photo addendum of this appraisal report. The client/report reader needs to understand that I did not stand on a ladder and inspect the labeling on the unit(s). It is outside of the scope of work in this assignment for me to carry a ladder and read the labeling/writing on the detector unit. In order to be 100% certain that a detector unit is made to detector smoke, carbon monoxide, or both, the labeling/writing on the detector unit needs to be observed. I recommend that the client/report reader either hire a home inspector to inspect the detector unit to be certain whether the detector unit is for smoke, carbon monoxide, or both.

Note:

The utilities were on and functional at the time of my observation.

Note:

The appraiser is not a licensed building/home inspector, and this is not a building/home inspection report. An expert in this field, such as, a licensed building/home inspector should be relied upon to further evaluate and determine the condition of the subject. It is recommended for all purchase transactions that a building/home inspector further evaluate and determine the condition of the parcel being purchased.

• GPAR: Sales Comparison Analysis - Summary of Sales Comparison Approach

Six closed sales are included for comparison to the subject property. The comparable sales are culled from the subject's market and are reliable indicators of the subject's market value after the adjustments are implemented. Living area adjustments @ $70/psf. GLA adjustments are based on an analytical, statistical analysis of the central tendencies in the market place. Notes/worksheet retained in appraiser's work file.
Sale 1 is adjusted downwards for seller concessions.
No discernible site adjustments are extracted.
All sales are considered to be similar in overall quality as the subject.
Market data does not support an adjustment for age/year built differences w/in a reasonable time period. Sales slightly older or newer in age/year built were still considered comparables and were utilized due to having similar attributes, despite their age differences. The primary concern in this market is the overall condition of the property, not the actual age, thus no age/year built adjustments are warranted. Effective age is also taken into consideration.
All sales are considered to be similar in overall condition as the subject.
No bathroom adjustments required (all sales similar in bathroom count).
The subject has an attached 2-car garage. All sales have attached 2-car garages similar to the subject.
Fireplace adjustments @ $2,000.
The subject has a detached storage building, however no contributory value is given. Sales were adjusted accordingly for differences in exterior improvements as compared to the subject.
Sales 1-4 are within 6 months prior to the effective date of this appraisal. Sales 5 & 6 are within 12 months prior to the effective date of this appraisal. No discernible time adjustments are extracted.
All sales are located within one mile of the subject. All sales are located within the subject's subdivision (phases 1-3).
The subject is located within Longview ISD. All sales are located within Longview ISD similar to the subject.
Some comparable photos may be from the MLS. MLS photos are considered reliable and the greatest indicator of a comparables condition at time of sale which could be up to 12 months prior to date of inspection.
It is not atypical in the subject's market area and throughout East Texas markets to use sales that have occurred within the past year. it is acceptable for real estate professionals to utilize and rely on data that might normally be considered "dated" in more volatile markets. It is common place practice to be able to rely on data within the past year.
Adjustments were implemented using two techniques; an analytical, statistical analysis of the *central tendencies* in the market place of what a willing buyer might pay extra to have these amenities, not what it might cost to construct these items & paired sales analysis.
As is common in many suburban and rural communities in this state, market areas are much larger than in a typical urban setting due to the lack of population density. Thus, sometimes it becomes necessary to use comparable sales that are further in distance than desirable from the subject and which may have closed more than six months prior to the effective date of the appraisal.
It is important for the report user to understand that Texas is a non-disclosure state. Buyers and sellers of real property are under no legal obligation to disclose the prices of transactions. For this reason, although there may have been other actual sales, those sales included in this appraisal report are not only deemed the most relevant, but also are sales upon which reliable sale price data was available (typically via the MLS).
Reconciliation: Within the sales comparison approach, weighting is used in assisting in reconciling the sales comparison approach. Sales 3 & 5 are given most weight due to being most similar in overall GLA to the subject. The weighted average yields approx. $226,060-$245,350 . Adjusted Range of Comparable Sales: $237,000. A reasonable indication of value per the sales approach is $237,000.

Scope of Work

USPAP defines Scope of Work as *the type and extent of research and analyses in an appraisal or appraisal review assignment*. The Scope of Work for this appraisal is defined by the complexity of this appraisal assignment, the definition of market value, statement of assumptions and limiting conditions, and certifications. The appraiser: (1) performed a visual observation of the interior and exterior areas of the subject property, (2) observed the neighborhood/addition area (3) researched, verified, and analyzed data from reliable public and/or private sources, and (4) reported his analysis, opinions, and conclusions within this appraisal report.

Supplemental Addendum

File No. JAMIE308-Kunz

Client	Ethan Kunz						
Property Address	308 Jamie Ct						
City	Longview	County	Gregg	State	TX	Zip Code	75605-8003
Appraiser	Joseph Ryan Ellis						

The appraiser viewed the readily accessible areas of the subject property, including all structures located within the lot lines of the subject. Please note that this visual inspection is not to the same depth/degree as a home inspection. This visual observation is not to be used in lieu of a home inspection. The appraiser has viewed the property solely for appraisal purposes and to observe the property characteristics that a typical market participant would consider in their decision making process, as well as those items outlined in the assumptions and limiting conditions and certification to this appraisal report.

The appraisal is based on the information gathered from public records, an observation of the subject property, neighborhood and comparable properties; and other sources identified in this appraisal report. Longview Area Association of REALTORS® Multiple Listing Service (LAAR MLS) is most widely used listing source for real estate and is the leading search engine for all real estate professionals within the subject's market. The appraiser has utilized and relied on this source primarily for the data reporting contained in the appraisal report. In the event that conflicting information was discovered on LAAR MLS vs. a public records source, appraiser called (or emailed) either the listing agent or selling agent to verify the information. Public records reports from local CAD online systems were also utilized in gathering data on the subject property and the comparables. CAD often provides information on the legal description, owner of record and prior deeds/owners. This Appraisal Report sets forth only a summary of the comparable sales and their comparability to the subject and the appraiser's conclusion. Supporting documentation is retained in the appraiser's work file.

In the Sales Comparison Approach, closed sales were utilized in comparison to the subject property. This would include sales outside of the subject neighborhood if deemed necessary. Information on the comparable sales was based on a cross section of the local CAD public records, LAAR MLS, an exterior observation from the street and if possible, verification with the listing agent or other parties to the sale. The gross living area for the subject was based on measurements by the appraiser and the gross living area for the comparables was obtained from the local appraisal district and/or LAAR MLS.

It was determined that the cost approach and income approach were not necessary for credible assignment results, therefore these approaches to value were not developed.

Cost Approach - Not Developed

The Cost Approach is applicable when improvements are new, near new, or are of an unusual construction method. This approach to value is appropriate when sufficient land or building sites are available to a potential purchaser to make construction of improvements similar to the subject, a viable alternative to purchasing the subject. The cost approach is often subjective due to estimating depreciation. Given the age/year built of the improvements and since there is sufficient sale data in the subject's market area, I have determined that the Cost Approach is not applicable to the assignment and not necessary for credible assignment results.

Income Approach - Not Developed

The Income Approach is applicable when sufficient investor owned properties exist within the subject's immediate area or neighborhood and when investors regularly acquire such properties that are similar to the subject for the express purpose of the income they provide. While rentals exist in the area, their presence alone is not proof of a viable rental and investor marketplace. In areas determined by "owner occupied" units it may be inappropriate to employ the Income Approach, unless the approach clearly represents the motivations and actions of investors in the marketplace as it relates to the subject property. There is sufficient comparable sale data in the subject's market area. The income approach is not considered necessary for credible assignment results.

Highest and Best Use

Highest and Best Use is that reasonable and probable use that will support the highest present value, as defined, as of the effective date of the appraisal. Alternatively, it is that use, from among legally permissible, physically and reasonably possible uses, found to be economically and financially feasible, and which results in the most profitable of the alternatives.

The subject is a legally permissible use. The lot size, shape and land-to-building ratio allow the present structure and indicate a good utilization of the improvements. Based on current market conditions, the existing structure as a single family residence is its financially feasible and maximally productive use. Given the location of the subject and size of the site, surrounding land uses (recognizing the principle of conformity) and development characteristics of the market area, my opinion of the highest and best use of the property "as vacant" is for single family residential. Further, the existing use/improvements exceed the value of the site vacant; therefore my opinion of the highest and best use of the site "as improved" is for continued single family residential use.

LAAR-MLS, Primary Data Source:

The appraiser's primary source of data is Longview Area Association of REALTORS® Multiple Listing Service (LAAR MLS). The appraiser's research of the terms of sale are limited by the constraints of the cooperation of the LAAR-MLS members.

Assumptions; Extraordinary Assumption & Hypothetical Condition [defined]

An Extraordinary Assumption is defined by USPAP as "an assignment-specific assumption as of the effective date regarding uncertain information used in an analysis which, if found to be false, could alter the appraiser's opinions or conclusions."

A Hypothetical Condition is defined by USPAP as "a condition, directly related to a specific assignment, which is contrary to what is known by the appraiser to exist on the effective date of the assignment results, but is used for the purpose of analysis."

An Assumption is considered to be "that which is taken to be true." [prior USPAP definition] Assumptions are typically not directly related to a specific assignment [ie. an Assumption is utilized in most every appraisal report that the subject's foundation is structurally sound, or an Assumption may be used in most reports that the subject's soil is free from contamination.]

The standard scope of appraisal practice does not require me to investigate the legality of the construction of the original subject structures. I did not investigate the legality of the proposed construction of the improvements and I presume that the structure to be built has any and all required building permits.

An Assumption is utilized that all data and information obtained from the local MLS and local CAD is correct and accurate. An Assumption is utilized in that all data obtained from real estate agents and REALTORS® regarding the comparable sales submitted herein is accurate.

I did not investigate the subject, nor the comparable sales, to form an opinion regarding 1) a death may have occurred at the properties or 2) if any prior criminal acts have been committed at the properties. I have no knowledge of any such occurrences or acts, nor was I informed by any third party regarding such occurrences or acts. This type of investigation is beyond the standard scope of appraisal practice.

I did not conduct an investigation into "Megan's Law" (which was passed by Congress in 1996, said law governs sex offender registration and community notification) as it relates to the subject, the immediate market area of the subject and the comparable sales. This type of investigation is beyond the standard scope of appraisal practice and normal course of business.

I did not notice any posting of code violations at the subject property, nor was I informed by any third party of any such violations. I did not conduct an investigation to determine if a notice of pendence of action relative to a code violation has been recorded against the subject property by the local code enforcement agency relative to violations of Health and Safety Codes and/or applicable sections of the Code of Civil Procedure. This type of investigation is beyond the scope of appraisal practice.

Supplemental Addendum

File No. JAMIE308-Kunz

Client	Ethan Kunz						
Property Address	308 Jamie Ct						
City	Longview	County	Gregg	State	TX	Zip Code	75605-8003
Appraiser	Joseph Ryan Ellis						

I am not a surveyor. I have utilized computer models for flood zone determination. Any concerns with flood zone delineation should be discussed with a professional surveyor as the information obtained by me for the purpose of this appraisal may not be correct. An Assumption is utilized that the flood information provided by Alamode software is true and accurate. If found to be false, my opinions and conclusions could be affected.
I am not a building contractor or a qualified home inspector. My expertise is in determining value only. I am not qualified to observe or report on physical items that are not easily visible. Any parties to this transaction having concerns regarding structural, mechanical, infestation, contamination or other issues about the subject property are urged to consult an expert in the appropriate field. While others “may rely” on the report, they should not rely on it to disclose condition and defects. An Assumption is utilized that the subject property is similar and conducive to other properties within the subject’s market area with regards to the items listed above.
No opinion is expressed as to the value of subsurface gas, oil or mineral rights. I have assumed that the subject property is not subject to surface entry for the exploration or removal of oil, gas, or minerals, unless I have stated otherwise within this appraisal report.

Regarding Disinterested Verification Sources - Texas is a non-disclosure state

As Texas is a "non-disclosure" state, it was not possible to verify all data from a disinterested source. I attempted to verify comparable sales data within the normal course of business. In this state and local jurisdiction, the non-disclosure status of law limits me from access to any non-interested party data other than that which is printed through the private MLS. Due to the confidentiality clauses and laws of this state regarding confidential information, only those who had a financial interest in the transaction on some level were privy to the information necessary to use in this appraisal. The MLS, CAD and/or correspondence with agents involved in the transaction are the primary means of gathering the information used in this report.

Building Sketch (Page - 1)

Client	Ethan Kunz						
Property Address	308 Jamie Ct						
City	Longview	County	Gregg	State	TX	Zip Code	75605-8003
Appraiser	Joseph Ryan Ellis						

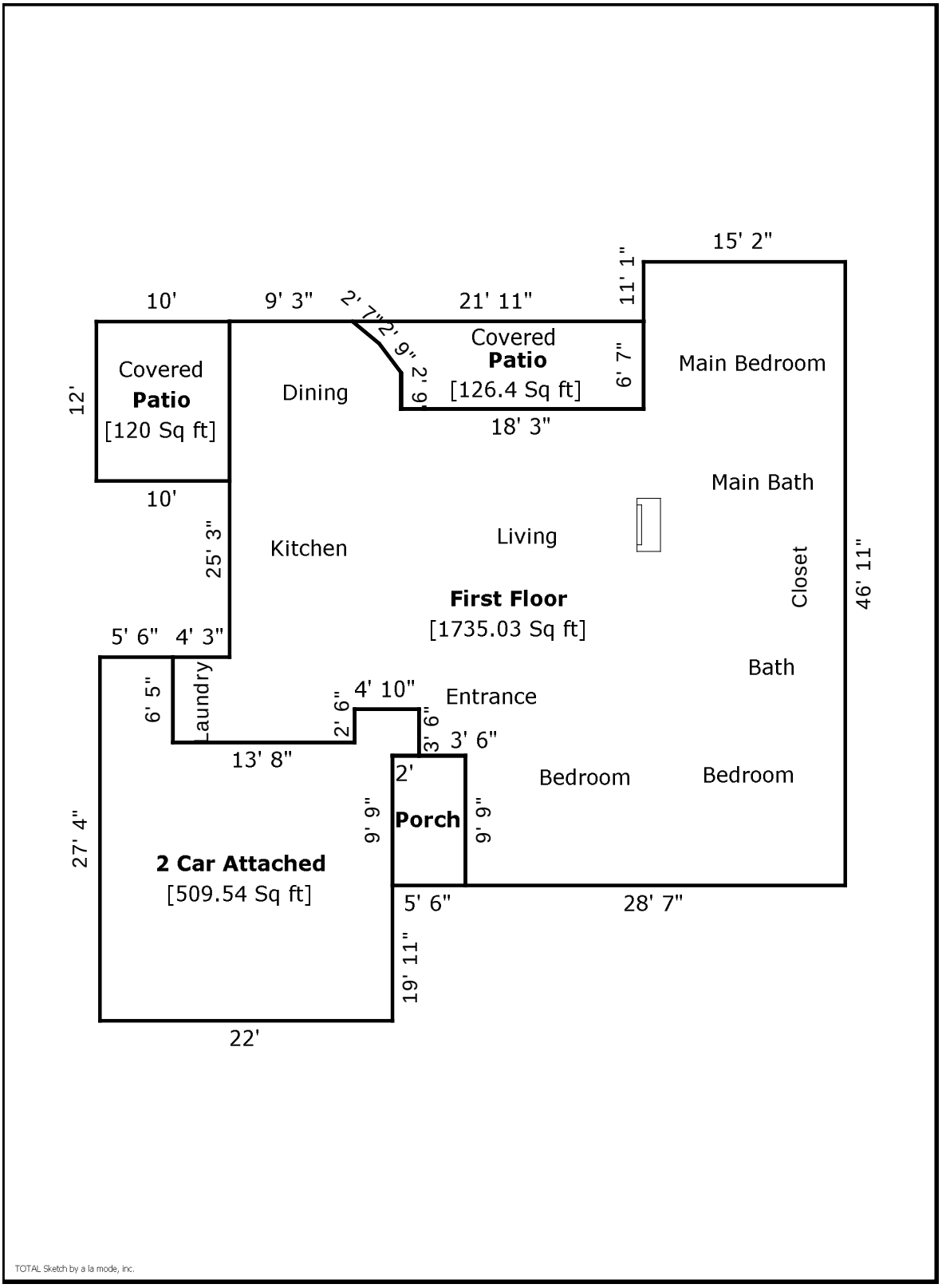

Building Sketch (Page - 2)

Client	Ethan Kunz						
Property Address	308 Jamie Ct						
City	Longview	County	Gregg	State	TX	Zip Code	75605-8003
Appraiser	Joseph Ryan Ellis						

Living Area		Calculation Details		
First Floor	1735 Sq ft	15.2 × 11.1	=	168.1
		35.8 × 28.6	=	1024.2
		3.5 × 3.5	=	12.2
		6.4 × 4.2	=	27.3
		31.7 × 9.2	=	292.9
		22.6 × 4.8	=	109.2
		0.2 × 2.5	=	0.4
		3.7 × 25.3	=	92.9
		2 × 2.2	=	4.3
		0.5 × 2.2 × 1.7	=	1.8
		0.5 × 2 × 1.7	=	1.7
Total Living Area (Rounded):	**1735 Sq ft**			
Non-living Area				
Patio	126.4 Sq ft	6.6 × 18.2	=	120.1
		1.7 × 1.7	=	2.8
		0.5 × 2.2 × 1.7	=	1.8
		0.5 × 1.7 × 2	=	1.7
Porch	53.6 Sq ft	9.8 × 5.5	=	53.6
2 Car Attached	509.5 Sq ft	22 × 19.9	=	438.2
		5.5 × 6.4	=	35.3
		3.5 × 4.8	=	16.9
		1 × 19.2	=	19.2
Patio	120 Sq ft	12 × 10	=	120

Plat Map

Client	Ethan Kunz						
Property Address	308 Jamie Ct						
City	Longview	County	Gregg	State	TX	Zip Code	75605-8003
Appraiser	Joseph Ryan Ellis						

Aerial Map

Client	Ethan Kunz						
Property Address	308 Jamie Ct						
City	Longview	County	Gregg	State	TX	Zip Code	75605-8003
Appraiser	Joseph Ryan Ellis						

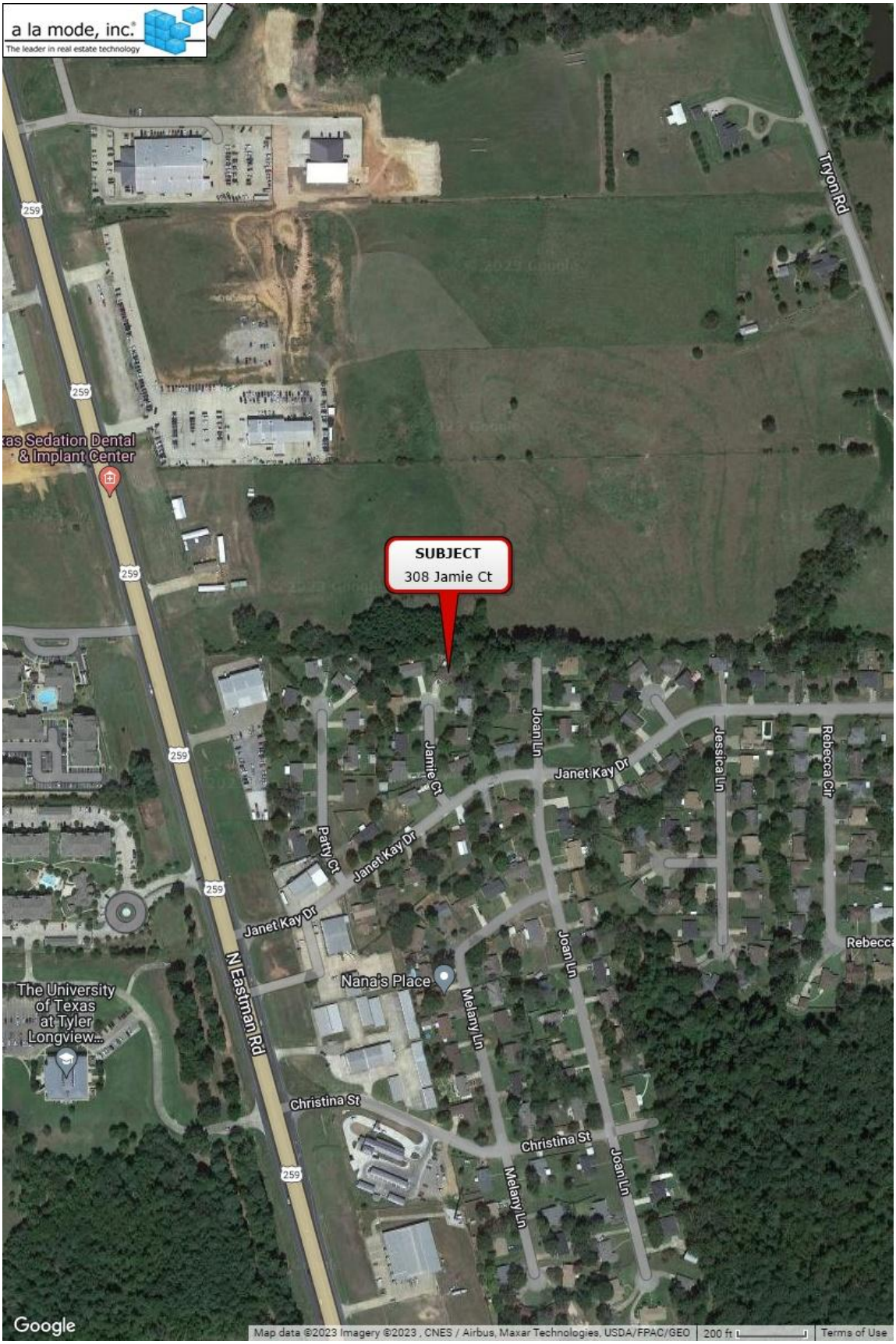

School District Map

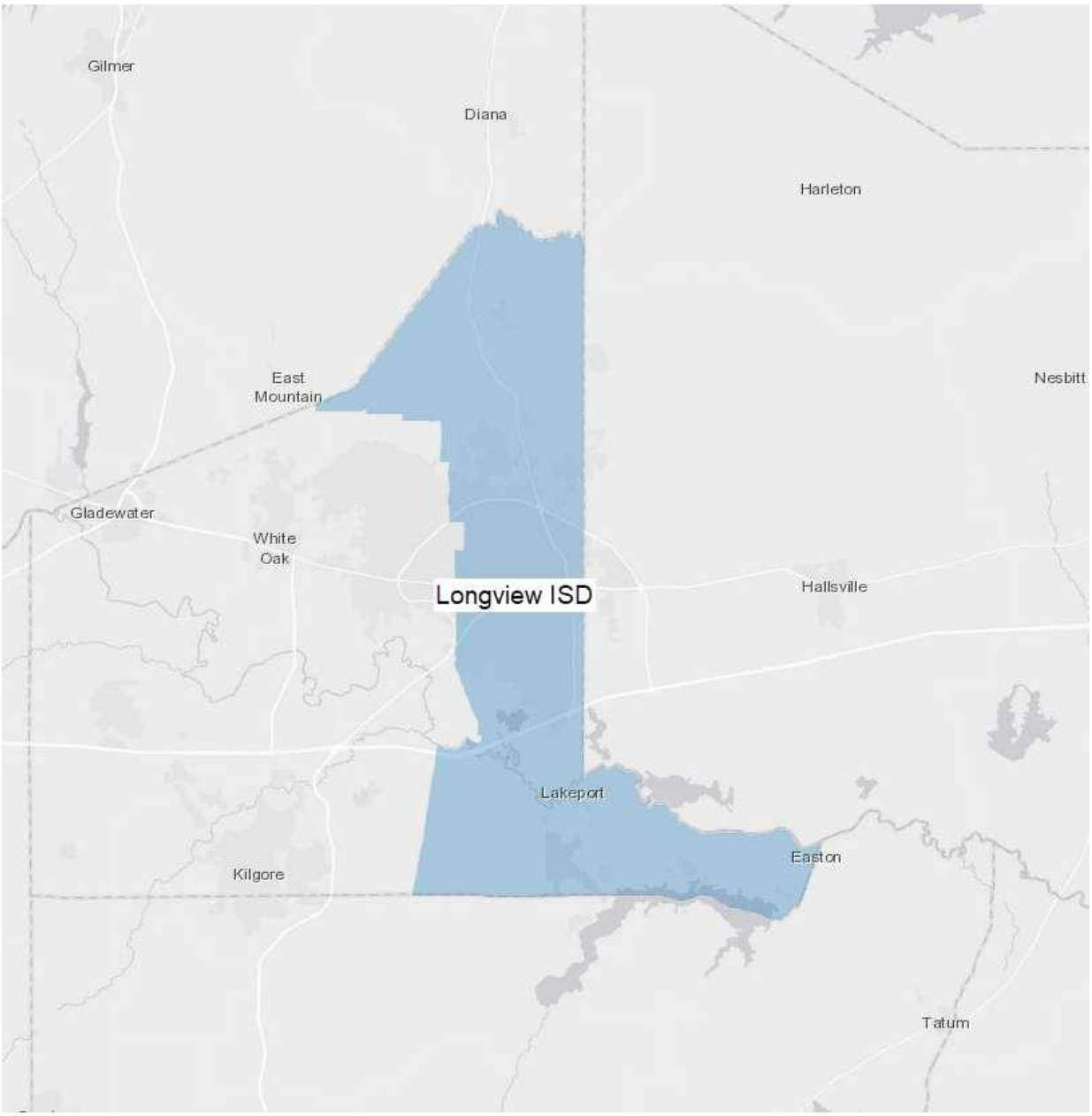

ENVIRONMENTAL ADDENDUM

APPARENT* HAZARDOUS SUBSTANCES AND/OR DETRIMENTAL ENVIRONMENTAL CONDITIONS

File # 2303-7712
JAMIE308-Kunz

Client	Ethan Kunz						
Property Address	308 Jamie Ct						
City	Longview	County	Gregg	State	TX	Zip Code	75605-8003
Appraiser	Joseph Ryan Ellis						

*Apparent is defined as that which is visible, obvious, evident or manifest to the appraiser.

This Environmental Addendum is for use with any real estate appraisal. Only the statements which have been marked by the appraiser apply to the Subject property.

This addendum reports the results of the appraiser's routine viewing of and inquiries about the subject property and its surrounding area. It also states what assumptions were made about any observed evidence of any hazardous substances and/or detrimental environmental conditions. The appraiser is not an expert environmental inspector and therefore might be unaware of existing hazardous substances and/or detrimental environmental conditions which may have a negative effect on the safety or value of the property. It is possible that tests and inspections made by a qualified environmental inspector would reveal the existence of hazardous materials and/or detrimental environmental conditions on or around the property that would negatively affect its safety and value.

DRINKING WATER

- [ ] Drinking water is supplied to the subject from a municipal water supply which is considered safe. However, the only way to be absolutely certain that the water meets published standards is to have it tested at all discharge points.
- [ ] Drinking water is supplied by a well or other non-municipal source. It is recommended that tests be made to be certain that the property is supplied with adequate drinking water.
- [ ] Lead can get into drinking water from its source, the pipes, at all discharge points, plumbing fixtures and/or appliances. The only way to be certain that water does not contain an unacceptable lead level is to have it tested at all discharge points.
- [x] The opinion of value is based on the assumption that there is an adequate supply of safe, lead-free drinking water.

Comments:

SEWER SYSTEM

- [ ] Sewage is removed from the property by a municipal sewer system.
- [ ] Sewage is disposed of by a septic system or other sanitary on-site waste disposal system. The only way to determine that the disposal system is adequate and in good good working condition is to have it inspected by a qualified inspector.
- [x] The opinion of value is based on the assumption that the sewage is disposed of by a municipal sewer or an adequate properly permitted alternate treatment system in good condition.

Comments:

SOIL CONTAMINANTS

- [ ] There are no apparent signs of soil contaminants on or near the subject property (except as stated in Comments, below). It is possible that research, inspection and testing by a qualified environmental inspector would reveal existing and/or potential hazardous substances and/or detrimental environmental conditions on or around the property that would negatively affect its safety and value.
- [x] The opinion of value is based on the assumption that the subject property is free of soil contaminants.

Comments:

ASBESTOS

- [ ] All or part of the improvements were constructed before 1979 when asbestos was a common building material. The only way to be certain that the property is free of friable and non-friable asbestos is to have it inspected and tested by a qualified asbestos inspector.
- [ ] The improvements were constructed after 1979. No apparent friable asbestos was observed (except as stated in Comments, below).
- [x] The opinion of value is based on the assumption that there is no uncontained friable asbestos or other hazardous asbestos material on the property.

Comments:

PCBs (POLYCHLORINATED BIPHENYLS)

- [ ] There were no apparent leaking fluorescent light ballasts, capacitors or transformers anywhere on or nearby the property (except as stated in Comments, below).
- [ ] There was no apparent visible or documented evidence known to the appraiser of soil or groundwater contamination from PCBs anywhere on the property (except as reported in Comments below).
- [x] The opinion of value is based on the assumption that there are no uncontained PCBs on or nearby the property.

Comments:

RADON

- [ ] The appraiser is not aware of any radon tests made on the subject property within the past 12 months (except as stated in Comments, below).
- [ ] The appraiser is not aware of any indication that the local water supplies have been found to have elevated levels of radon or radium.
- [ ] The appraiser is not aware of any nearby properties (except as stated in Comments, below) that were or currently are used for uranium, thorium or radium extraction or phosphate processing.
- [x] The opinion of value is based on the assumption that the Radon level is at or below EPA recommended levels.

Comments:

USTs (UNDERGROUND STORAGE TANKS)

☐ There is no apparent visible or documented evidence known to the appraiser of any USTs on the property nor any known historical use of the property that would likely have had USTs.

☐ There are no apparent petroleum storage and/or delivery facilities (including gasoline stations or chemical manufacturing plants) located on adjacent properties (except as reported in Comments below).

☐ There are apparent signs of USTs existing now or in the past on the subject property. It is recommended that an inspection by a qualified UST inspector be obtained to determine the location of any USTs together with their condition and proper registration if they are active; and if they are inactive, to determine whether they were deactivated in accordance with sound industry practices.

☒ The opinion of value is based on the assumption that any functioning USTs are not leaking and are properly registered and that any abandoned USTs are free from contamination and were properly drained, filled and sealed.

Comments:

NEARBY HAZARDOUS WASTE SITES

☐ There are no apparent hazardous waste sites on the subject property or nearby the subject property (except as stated in Comments, below). Hazardous Waste Site search by a trained environmental engineer may determine that there is one or more hazardous waste sites on or in the area of the subject property.

☒ The opinion of value is based on the assumption that there are no hazardous waste sites on or nearby the subject property that negatively affect the value or safety of the property.

Comments:

UREA FORMALDEHYDE INSULATION (UFFI)

☐ All or part of the improvements were constructed before 1982 when urea foam insulation was a common building material. The only way to be certain that the property is free of urea formaldehyde is to have it inspected by a qualified urea formaldehyde inspector.

☐ The improvements were constructed after 1982. No apparent urea formaldehyde materials were observed (except as stated in Comments, below).

☒ The opinion of value is based on the assumption that there is no significant UFFI insulation or other urea formaldehyde material on the property.

Comments:

LEAD BASED PAINT

☐ All or part of the improvements were constructed before 1978 when lead based paint was a common building material. There is no apparent visible or known documented evidence of peeling or flaking Lead Paint on the floors, walls or ceilings (except as stated in Comments, below). The only way to be certain that the property is free of surface or subsurface lead based paint is to have it inspected by a qualified inspector.

☐ The improvements were constructed after 1978. No apparent Lead Paint was observed (except as stated in Comments, below).

☒ The opinion of value is based on the assumption that there is no flaking or peeling Lead Paint on the property.

Comments:

AIR POLLUTION

☐ There are no apparent signs of air pollution at the time of the appraiser's viewing of the subject property, nor were any reported (except as reported in Comments, below). The only way to be certain that the air is free of pollution is to have it tested.

☒ The opinion of value is based on the assumption that the property is free of air pollution.

Comments:

WETLANDS/FLOOD PLAINS

☐ The site does not contain any apparent wetlands/flood plains (except as stated in Comments, below). The only way to be certain that the site is free of wetlands/flood plains is to have it inspected by a qualified environmental professional.

☒ The opinion of value is based on the assumption that there are no Wetlands/Flood Plains on the property (except as stated in Comments, below).

Comments:

MISCELLANEOUS ENVIRONMENTAL HAZARDS

☐ There are no other apparent hazardous substances and/or detrimental environmental conditions on or in the area of the site except as indicated below:

- ☐ Excess noise
- ☐ Radiation and/or electromagnetic radiation
- ☐ Light pollution
- ☐ Waste heat
- ☐ Acid mine drainage
- ☐ Agricultural pollution
- ☐ Geological hazards
- ☐ Nearby hazardous property
- ☐ Infectious medical wastes
- ☐ Pesticides
- ☐ Other (chemical storage, drums, pipelines, etc.)

☒ The opinion of value is based on the assumption that, except as reported above, there are no other environmental hazards that would negatively affect the value of the subject property.

When any of the environmental assumptions made in this addendum are not correct, the opinion of value in this appraisal may be affected.

Subject Photo Page

Client	Ethan Kunz						
Property Address	308 Jamie Ct						
City	Longview	County	Gregg	State	TX	Zip Code	75605-8003
Appraiser	Joseph Ryan Ellis						

Subject Front

308 Jamie Ct	
Sales Price	
Gross Living Area	1,735
Total Rooms	6
Total Bedrooms	3
Total Bathrooms	2.0
Location	Longview ISD
View	Residential
Site	14,584 sf
Quality	Avg
Age	43

Subject Rear

Subject Street

Photograph Addendum

Client	Ethan Kunz						
Property Address	308 Jamie Ct						
City	Longview	County	Gregg	State	TX	Zip Code	75605-8003
Appraiser	Joseph Ryan Ellis						

Additional Street

Additional Front

Additional Front

View from Front

Address Verification

Additional Rear

Photograph Addendum

Client	Ethan Kunz						
Property Address	308 Jamie Ct						
City	Longview	County	Gregg	State	TX	Zip Code	75605-8003
Appraiser	Joseph Ryan Ellis						

View from Rear

HVAC



Electric Meter

Storage Building
(No Value Given)

Additional View

Garage View 1

Photograph Addendum

Client	Ethan Kunz						
Property Address	308 Jamie Ct						
City	Longview	County	Gregg	State	TX	Zip Code	75605-8003
Appraiser	Joseph Ryan Ellis						

Garage View 2

Garage Storage



Garage Storage

Living View 1

Living View 2



Entrance

Photograph Addendum

Client	Ethan Kunz						
Property Address	308 Jamie Ct						
City	Longview	County	Gregg	State	TX	Zip Code	75605-8003
Appraiser	Joseph Ryan Ellis						

Dining



Kitchen

Kitchen & Dining

Laundry

Bedroom 1

Bedroom 2

Photograph Addendum

Client	Ethan Kunz						
Property Address	308 Jamie Ct						
City	Longview	County	Gregg	State	TX	Zip Code	75605-8003
Appraiser	Joseph Ryan Ellis						

Water Heater

Bathroom 1 View 1

Bathroom 1 View 2

Bedroom 3 (Main Bedroom)

Bathroom 2 (Main Bathroom View 1)

Bathroom 2 (Main Bathroom View 2)

Photograph Addendum

Client	Ethan Kunz						
Property Address	308 Jamie Ct						
City	Longview	County	Gregg	State	TX	Zip Code	75605-8003
Appraiser	Joseph Ryan Ellis						



HVAC

Blank Intentionally

Blank Intentionally

Blank Intentionally

Blank Intentionally

Blank Intentionally

Comparable Photo Page

Client	Ethan Kunz						
Property Address	308 Jamie Ct						
City	Longview	County	Gregg	State	TX	Zip Code	75605-8003
Appraiser	Joseph Ryan Ellis						

Comparable Sale 1

306 Cindi Ct

Prox. to Subject	0.11 miles E
Sale Price	228,000
Gross Living Area	1,568
Total Rooms	6
Total Bedrooms	3
Total Bathrooms	2.0
Location	Longview ISD
View	Residential
Site	14,549 sf
Quality	Avg
Age	40
MLS Photo	

Comparable Sale 2

205 Jessica Ln

Prox. to Subject	0.20 miles SE
Sale Price	236,500
Gross Living Area	1,580
Total Rooms	6
Total Bedrooms	3
Total Bathrooms	2.0
Location	Longview ISD
View	Residential
Site	21,605 sf
Quality	Avg
Age	40
MLS Photo	

Comparable Sale 3

412 Rebecca Cir

Prox. to Subject	0.26 miles E
Sale Price	237,000
Gross Living Area	1,718
Total Rooms	6
Total Bedrooms	3
Total Bathrooms	2.0
Location	Longview ISD
View	Residential
Site	10,890 sf
Quality	Avg
Age	37
MLS Photo	

Comparable Photo Page

Client	Ethan Kunz						
Property Address	308 Jamie Ct						
City	Longview	County	Gregg	State	TX	Zip Code	75605-8003
Appraiser	Joseph Ryan Ellis						

Comparable Sale 4

210 S Joan Ln

Prox. to Subject	0.19 miles SE
Sale Price	215,000
Gross Living Area	1,577
Total Rooms	6
Total Bedrooms	3
Total Bathrooms	2.0
Location	Longview ISD
View	Residential
Site	11,695 sf
Quality	Avg
Age	40
MLS Photo	

Comparable Sale 5

306 Janet Kay Dr

Prox. to Subject	0.17 miles E
Sale Price	246,900
Gross Living Area	1,748
Total Rooms	6
Total Bedrooms	3
Total Bathrooms	2.0
Location	Longview ISD
View	Residential
Site	12,212 sf
Quality	Avg
Age	40
MLS Photo	

Comparable Sale 6

207 Rebecca Cir

Prox. to Subject	0.21 miles SE
Sale Price	220,000
Gross Living Area	1,560
Total Rooms	6
Total Bedrooms	3
Total Bathrooms	2.0
Location	Longview ISD
View	Residential
Site	11,674 sf
Quality	Avg
Age	39
MLS Photo	

Location Map

Client	Ethan Kunz						
Property Address	308 Jamie Ct						
City	Longview	County	Gregg	State	TX	Zip Code	75605-8003
Appraiser	Joseph Ryan Ellis						

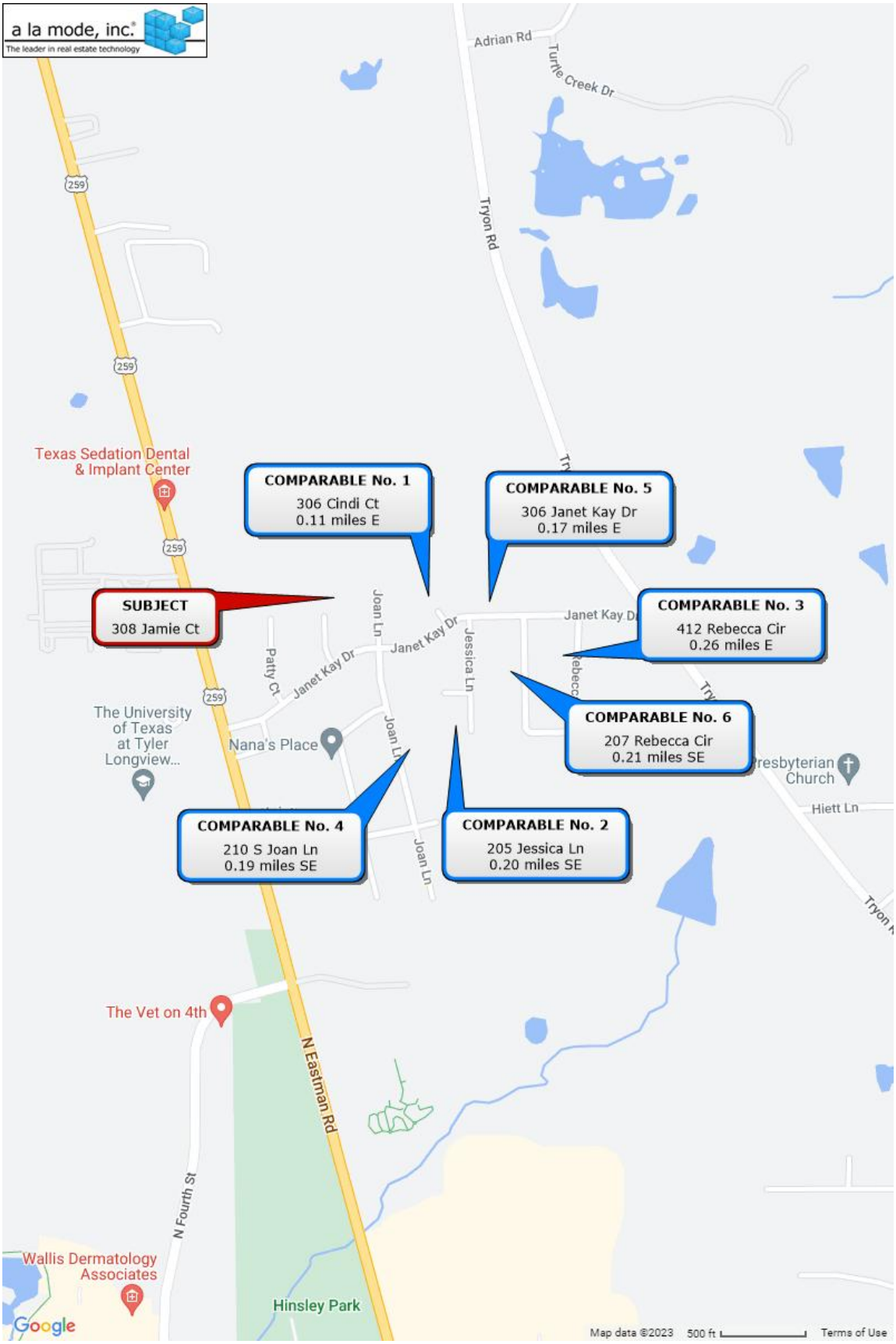

INVOICE

FROM:

Professional Appraisers of Texas, Inc.
PO BOX 291
Judson, TX 75660

Telephone Number: (903) 686-0023 Fax Number: (903) 598-7806

TO:

Ethan Kunz
808 Old Stage Rd
Pleasant Hill, MO 64080

E-Mail: ethan.douglas.kunz@gmail.com
Telephone Number: 417-920-6774 Fax Number:
Alternate Number:

INVOICE NUMBER	
2303-7712	
DATES	
Invoice Date:	03/04/2023
Due Date:	PAID
REFERENCE	
Internal Order #:	2303-7712
Lender Case #:	
Client File #:	JAMIE308-Kunz
FHA/VA Case #:	
Main File # on form:	JAMIE308-Kunz
Other File # on form:	2303-7712
Federal Tax ID:	47-2530097
Employer ID:	

DESCRIPTION

Lender: Ethan Kunz Client: Ethan Kunz
Purchaser/Borrower: Ethan Kunz
Property Address: 308 Jamie Ct
City: Longview
County: Gregg State: TX Zip: 75605-8003
Legal Description: LT 6 BLK 8 RAMBLING CREEK #1

FEES	AMOUNT
Appraisal Fee	475.00
CC Fee	14.25
SUBTOTAL	489.25

PAYMENTS			AMOUNT
Check #:	Date: 03/01/2023	Description: cc payment-Discover card	489.25
Check #:	Date:	Description:	
Check #:	Date:	Description:	
		SUBTOTAL	489.25
		TOTAL DUE	$ 0